VR FOUNDATION
CRAFTING LANDMARKS

Fortuna
POONAMALLEE

BUILD A LEGACY OF ENDURING GROWTH

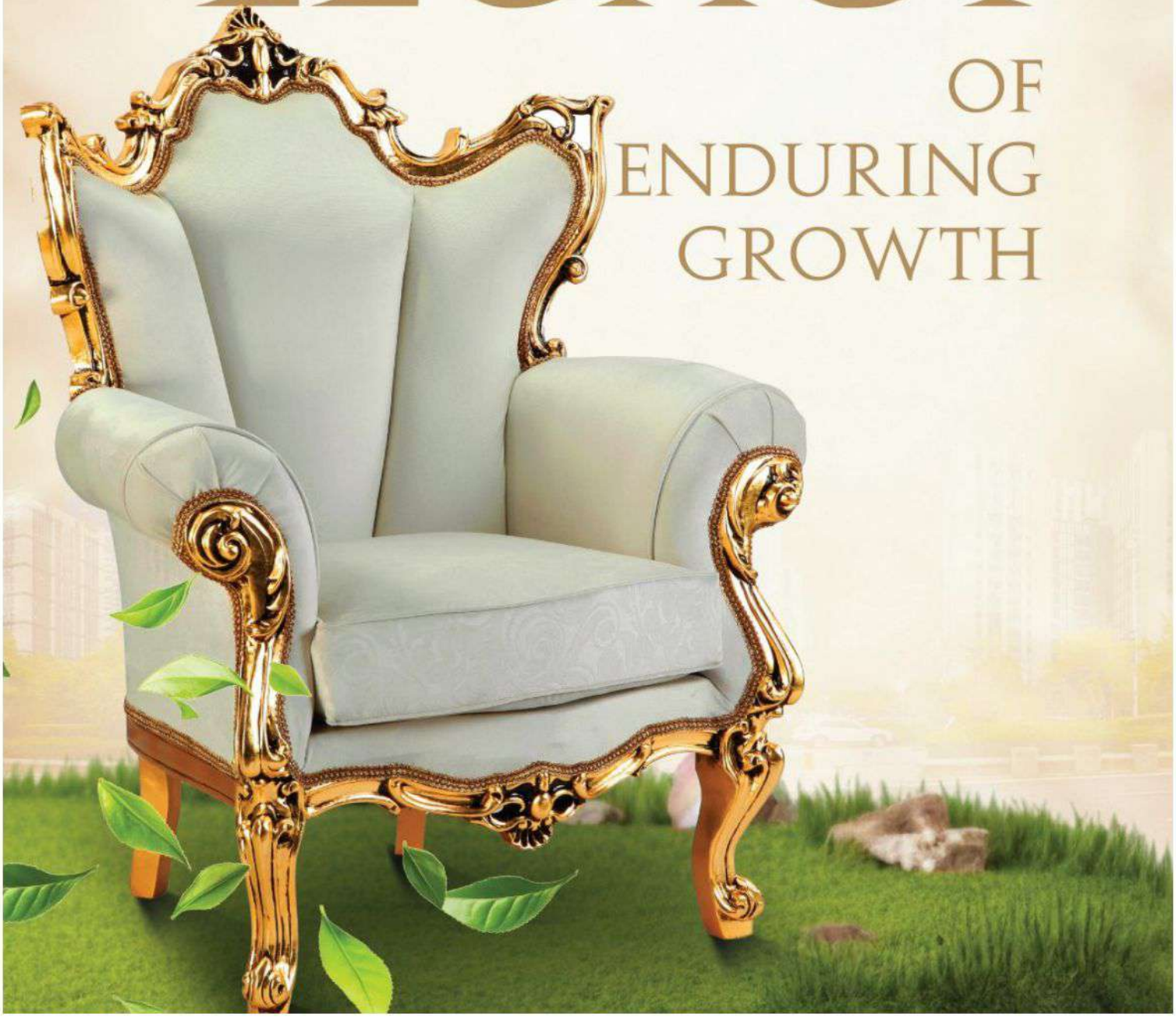

MASTER LAYOUT PLAN

LAYOUT OF HOUSE SITES IN SURVEY NO.: 2/3B1, 2/3B2, 2/3C, 2/3D, 7/2, 8/1, 8/2A1, 8/2A2, 2/8B & 8/3A OF VAYALANALLUR - A VILLAGE, POONAMALLEE TALUK

VR FOUNDATION
CRAFTING LANDMARKS

Fortuna
POONAMALLEE

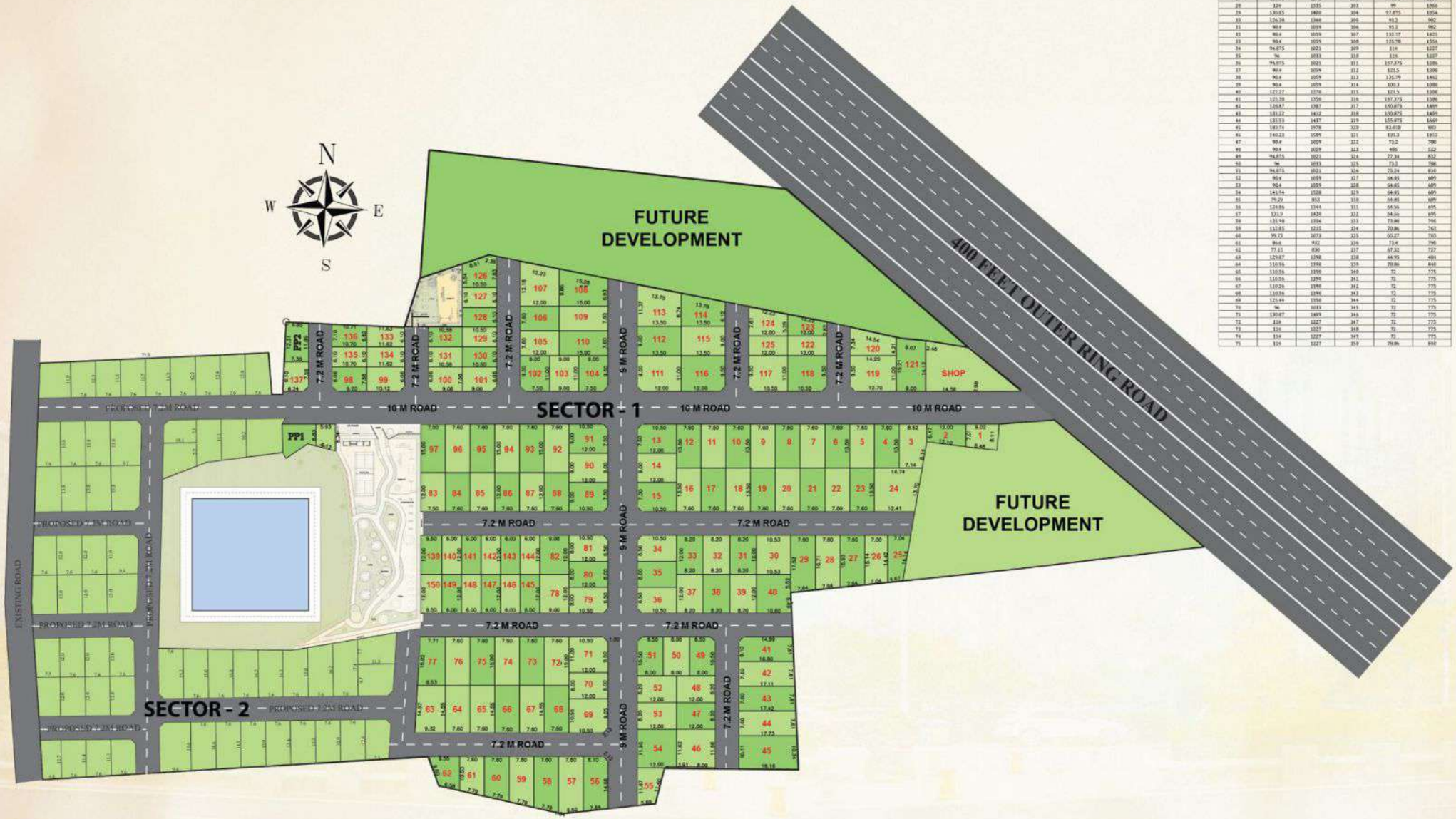

VR FORTUNA AREA STATEMENT					
S.NO	AREA IN SQMTR	AREA IN SQFT	S.NO	AREA IN SQMTR	AREA IN SQFT
1	65.90	710	76	114	1227
2	74.91	806	77	115.83	1313
3	109.43	1178	78	109	1163
4	102.6	1104	79	94.875	1021
5	102.6	1104	80	96	1033
6	102.6	1104	81	94.875	1021
7	102.6	1104	82	109	1163
8	102.6	1104	83	90.06	969
9	102.6	1104	84	91.2	982
10	102.6	1104	85	91.2	982
11	102.6	1104	86	91.2	982
12	102.6	1104	87	91.2	982
13	106.875	1150	88	91.2	982
14	108	1162	89	106.875	1150
15	106.875	1150	90	108	1162
16	102.6	1104	91	106.875	1150
17	102.6	1104	92	114	1227
18	102.6	1104	93	114	1227
19	102.6	1104	94	114	1227
20	102.6	1104	95	114	1227
21	102.6	1104	96	114	1227
22	102.6	1104	97	112.57	1212
23	102.6	1104	98	79.72	858
24	130.25	1573	99	96.64	933
25	82.54	888	100	78.95	849
26	130.46	1114	101	78.25	842
27	118.08	1271	102	97.875	1054
28	124	1335	103	99	1066
29	130.85	1408	104	97.875	1054
30	126.38	1360	105	91.2	982
31	98.4	1059	106	91.2	982
32	98.4	1059	107	132.17	1423
33	98.4	1059	108	120.78	1304
34	94.875	1021	109	114	1227
35	96	1033	110	114	1227
36	94.875	1021	111	147.375	1586
37	98.4	1059	112	121.5	1308
38	98.4	1059	113	135.79	1462
39	98.4	1059	114	109.2	1188
40	121.27	1278	115	121.5	1308
41	121.38	1306	116	147.375	1586
42	120.87	1387	117	130.875	1409
43	131.22	1412	118	130.875	1409
44	133.53	1437	119	155.875	1669
45	182.74	1978	120	82.018	883
46	140.23	1509	121	121.3	1313
47	98.4	1059	122	72.2	780
48	98.4	1059	123	486	523
49	94.875	1021	124	77.34	832
50	96	1033	125	73.3	788
51	94.875	1021	126	75.24	810
52	98.4	1059	127	64.95	699
53	98.4	1059	128	64.95	699
54	141.94	1528	129	64.95	699
55	79.29	853	130	64.95	699
56	124.86	1344	131	64.56	695
57	133.9	1420	132	64.56	695
58	125.98	1356	133	73.08	786
59	132.85	1215	134	70.86	762
60	99.73	1073	135	65.27	703
61	96.6	972	136	73.4	790
62	77.15	830	137	67.52	727
63	120.87	1298	138	64.95	699
64	110.56	1190	139	78.06	840
65	110.56	1190	140	72	775
66	110.56	1190	141	72	775
67	110.56	1190	142	72	775
68	110.56	1190	143	72	775
69	125.44	1350	144	72	775
70	96	1033	145	72	775
71	130.87	1409	146	72	775
72	114	1227	147	72	775
73	114	1227	148	72	775
74	114	1227	149	72	775
75	114	1227	150	78.06	840

PROJECT HIGHLIGHTS

- First - Ever Plug and Play
- Flexible Plot Sizes
- CMDA & RERA Approved
- 10 Acres of Excellence
- 200 + Premium Plots
- Gated Community Living

THOUGHTFUL AMENITIES FOR MODERN LIVING

- Gated Community Living
- Modern Street Lighting
- Smart Underground Cabling for Power & Network
- Avenue Trees
- Premium Black Top Roads
- Well-developed Park
- Storm Water Drain
- Grand Clubhouse

UNMATCHED CONNECTIVITY

On Outer Ring Road

5 Mins From Poonamalle Metro Station

10 Mins From Kuthambakkam Bus Terminus

3 Mins From Pattabiram Metro Station

5 Mins From Railway Station



5 Mins From Elevated Corridor

VR FOUNDATION
CRAFTING LANDMARKS

#93, 1st Floor, Kundrathur High Road, Vigneshwara Nagar, Porur, Chennai - 600116

SCAN FOR LOCATION